Grayscale Elevation Map (Min=Black, Max=White)

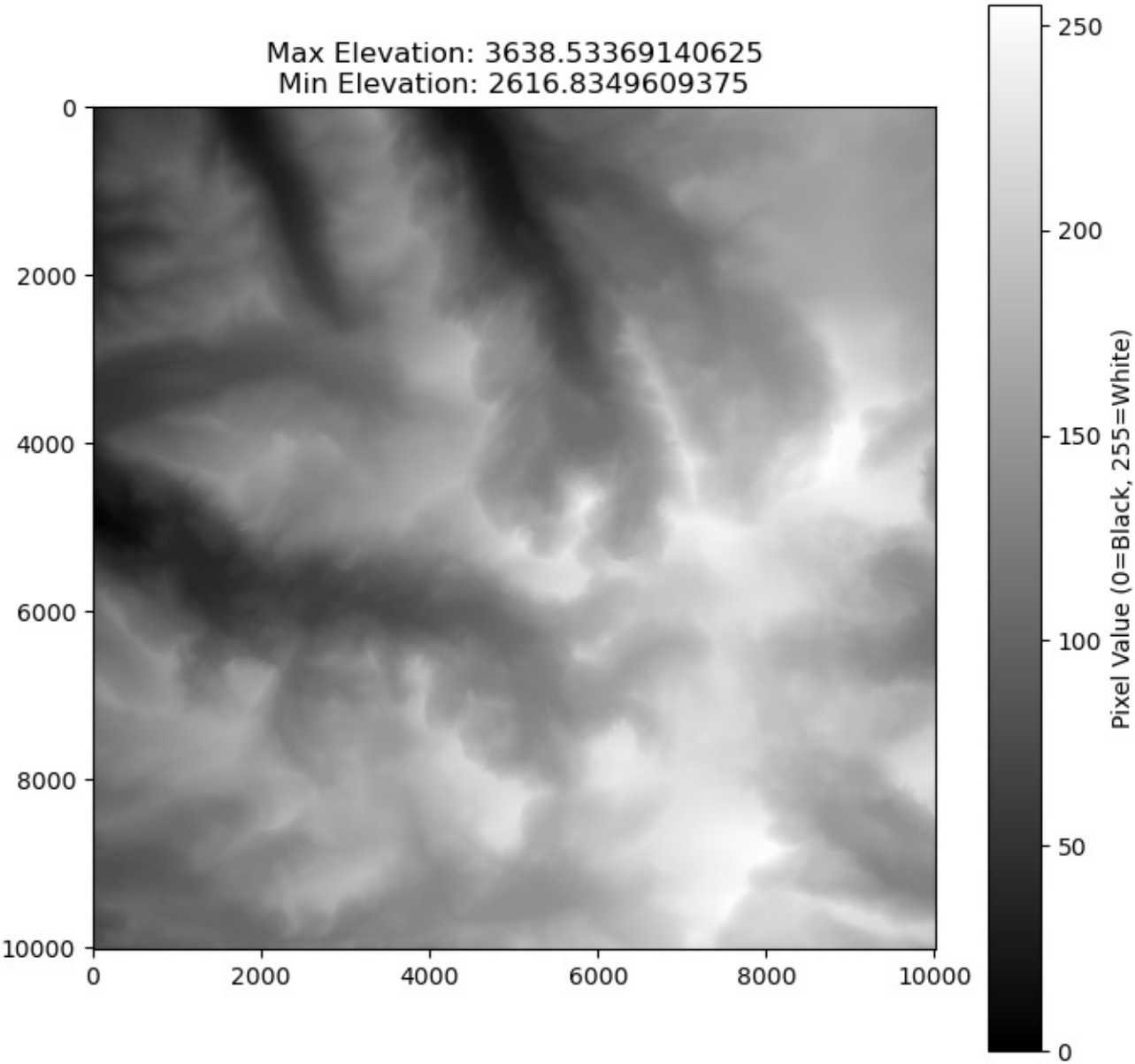

Image Index
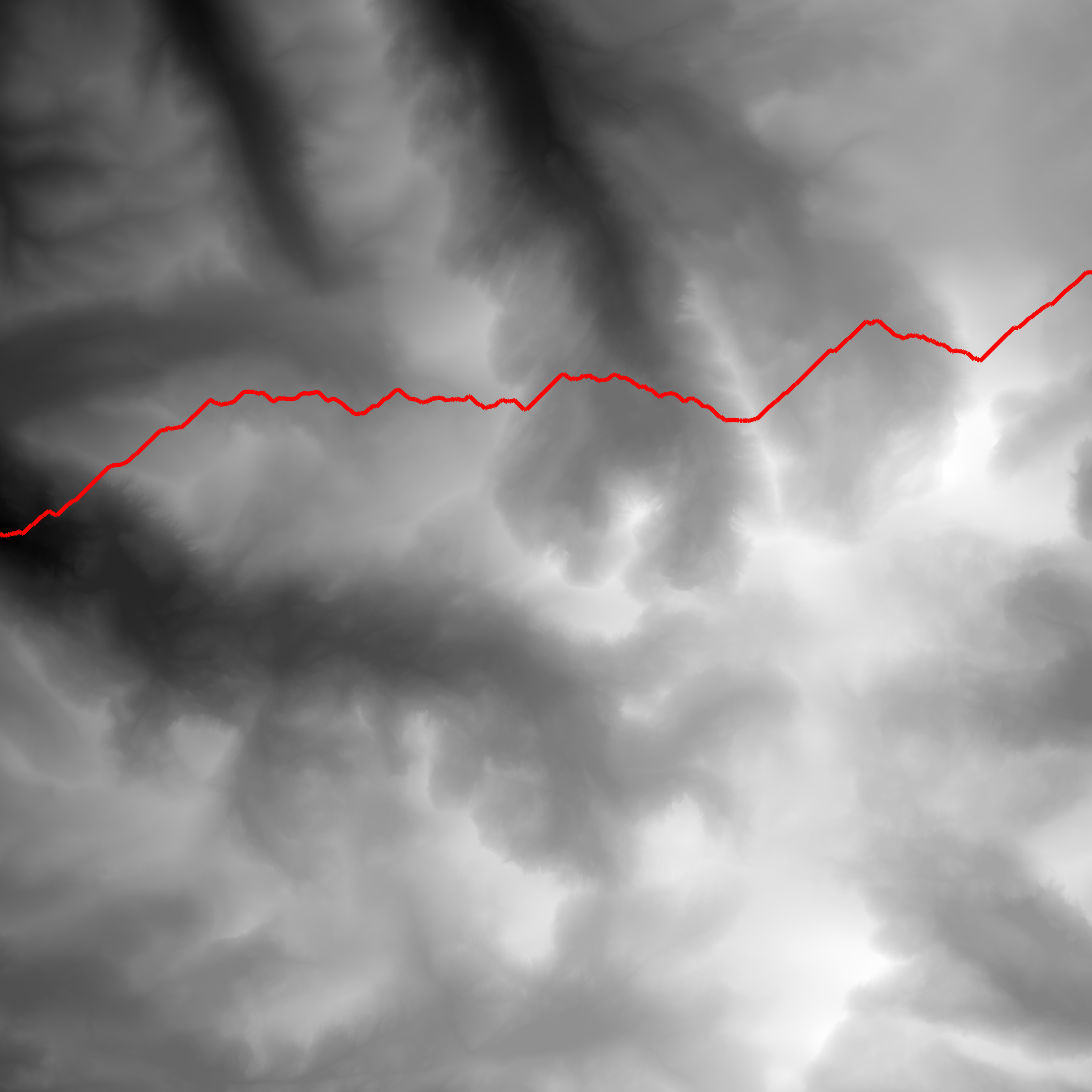
1. Grayscale Visualization
2. Greedy Algorithm with the start being at the lowest point elevation point on the leftmost column
3. AStar Algorithm with the start being at the lowest point elevation point on the leftmost column
4. Greedy Algorithm with the start being at the middle of the leftmost column
5. AStar Algorithm with the start being at the middle of the leftmost column